1. The Command Assistant (Your Global Pilot)

The Role: A friendly guide that turns complex global data into simple conversations.

- **Onboarding:** When a first-timer enters, the bot introduces the "GEONEWS Mission": helping you see how a single event (like a port strike) ripples across the world to affect your daily life.
- **Interactive Navigation:** It makes news fun. You can say, "Show me what's happening in Singapore," and the globe will rotate and zoom to that country instantly.
- **Scale Control:** It stays at a **Global/Continental scale**. If you try to ask about a specific street or house, the bot gently explains that the system is designed to track big-picture global patterns to prevent data exhaustion.
- **The Q&A Engine:** This is where users ask the "Big Picture" questions. Example: *"Will the war in Iran increase fuel prices in Australia?"* The bot pulls from a pre-loaded database to explain the connection in simple terms.

---

2. The Interactive World Map (Visuals)

The Role: A clean, easy-to-read "Digital Earth" inspired by the simplicity of Google Earth.

- **Visual Hierarchy:**
  - **Layer 1 (The World):** See the whole planet and big continents.
  - **Layer 2 (The Nations):** Country names and borders appear clearly.
  - **Layer 3 (The Hubs):** Major cities and urban centers appear. We stop here—no street-level clutter.
- **News Overlay:** Current news stories are displayed as clean markers over these layers.
- **Sentiment Heatmap Index:** Since we use colors to show the "mood" of a region (like a red glow for high tension), we will include a simple **Sentiment Index**. It works like a weather map key: Red = High Volatility, Blue = Stable/Calm. This makes it instantly interpretable for any user.

---

3. The Strategic Dashboard (Analytics)

The Role: A dedicated page that predicts how a local spark creates a global fire.

- **Global Analysis Only:** We don't analyze local neighborhoods. We look at how a war in the Middle East might disrupt **Tech supply chains in Asia** or the **Economy of Europe**.
- **The Four Pillars:** Analysis is categorized into four simple sections: **Geopolitics, Climate, Economy, and Tech**.

- **Neural Network Forecasts:** This section predicts the "overall" world impact. For example, if there is a conflict in a major oil region, the analytics will display a "Regional Volatility" bar and a forecast of how this will affect the global market over the next 48 hours.
- **The "So What?" Summary:** Each section gives a brief, non-technical explanation of the trend so you can understand the risk at a glance.

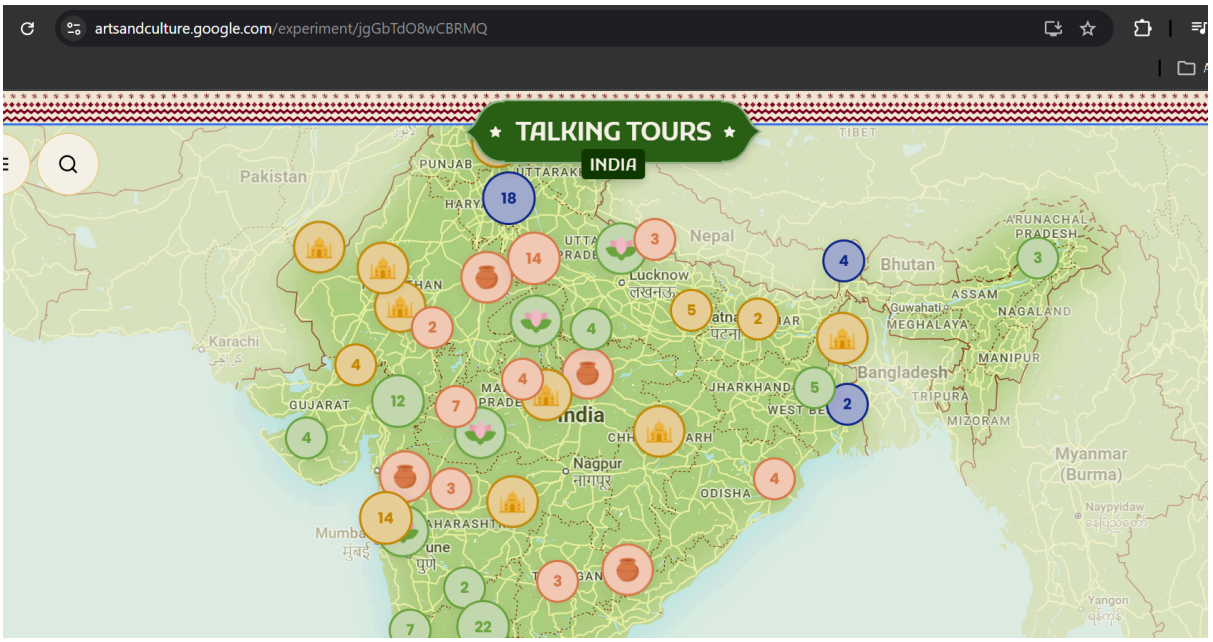

Fig: 01

WISCONSIN
Chicago
SOUTH CAROLINA
Winnipeg
ILLINOIS
SASKATCHEWAN
TENNESSEE
GEORGIA
IOWA
NORTH DAKOTA
ALABAMA
MISSOURI
MISSISSIPPI
Edmonton
SOUTH DAKOTA
ARKANSAS
NEBRASKA
Calgary
LOUISIANA
MONTANA
United States
Dallas
WYOMING
Houston
COLORADO
Vancouver
TEXAS
IDAHO
UTAH
NEW MEXICO
OREGON
Monterrey
NEVADA
Mexico
Las Vegas

Fig: 02

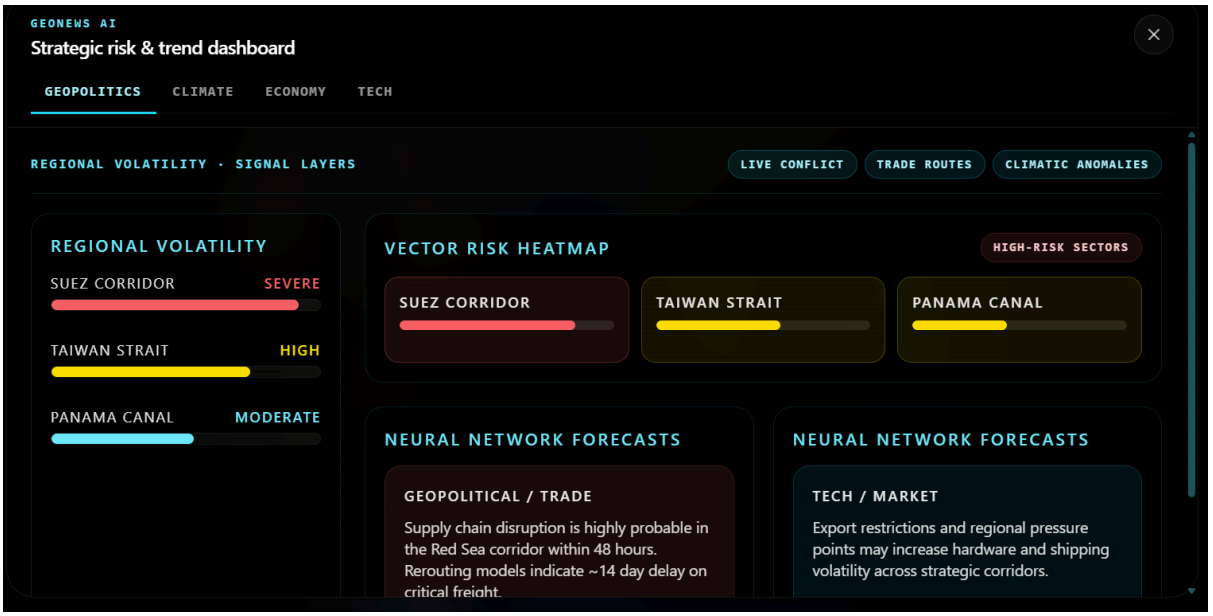
GEONEWS AI
Strategic risk & trend dashboard
GEOPOLITICS
CLIMATE
ECONOMY
TECH
REGIONAL VOLATILITY · SIGNAL LAYERS
LIVE CONFLICT
TRADE ROUTES
CLIMATIC ANOMALIES
REGIONAL VOLATILITY
SUEZ CORRIDOR
SEVERE
TAIWAN STRAIT
HIGH
PANAMA CANAL
MODERATE
VECTOR RISK HEATMAP
HIGH-RISK SECTORS
SUEZ CORRIDOR
TAIWAN STRAIT
PANAMA CANAL
NEURAL NETWORK FORECASTS
GEOPOLITICAL / TRADE
Supply chain disruption is highly probable in the Red Sea corridor within 48 hours. Rerouting models indicate ~14 day delay on critical freight.
NEURAL NETWORK FORECASTS
TECH / MARKET
Export restrictions and regional pressure points may increase hardware and shipping volatility across strategic corridors.

Fig:03

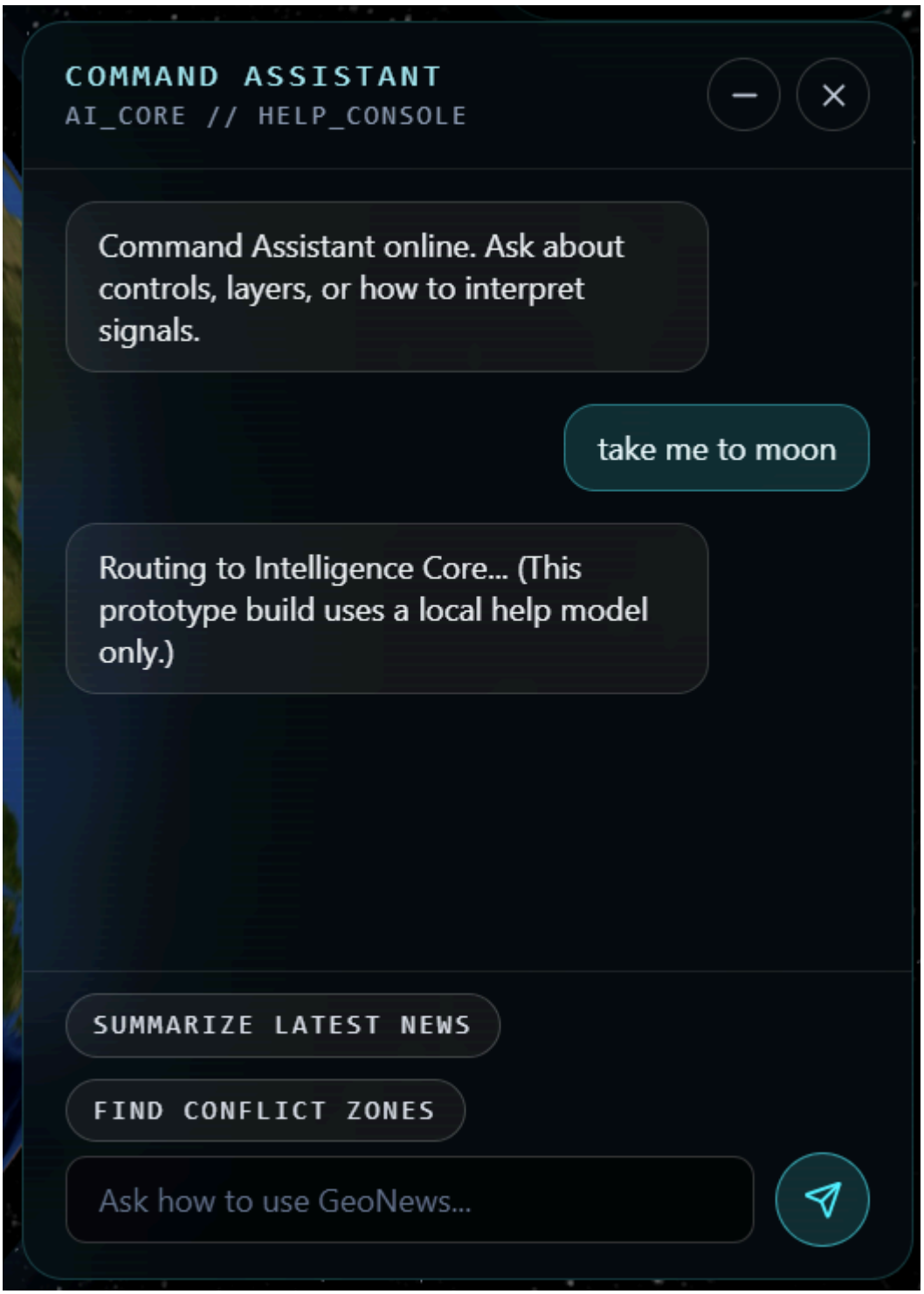
COMMAND ASSISTANT
AI_CORE // HELP_CONSOLE
Command Assistant online. Ask about controls, layers, or how to interpret signals.
take me to moon
Routing to Intelligence Core... (This prototype build uses a local help model only.)
SUMMARIZE LATEST NEWS
FIND CONFLICT ZONES
Ask how to use GeoNews...

Fig: 04